FloatChat: AI-Powered Conversational Interface for ARGO Ocean Data Discovery and Visualization

The FloatChat project represents a revolutionary approach to democratizing access to oceanographic data through artificial intelligence and conversational interfaces. This comprehensive technical analysis explores the proposed system architecture, implementation strategies, and the transformative potential of combining large language models with ARGO float data for scientific discovery and decision-making. The system addresses the critical challenge of making vast, complex oceanographic datasets accessible to both domain experts and non-technical stakeholders through natural language interaction, potentially revolutionizing how we interact with and understand our oceans.

Deployment and handling of ARGO autonomous ocean profiling floats on a research vessel in the open ocean.

Technical Architecture and System Design

Core System Components

The FloatChat system employs a sophisticated multi-layered architecture that seamlessly integrates data ingestion, processing, storage, AI-powered analysis, and interactive visualization. The foundation begins with ARGO NetCDF files containing comprehensive oceanographic measurements including temperature, salinity, and biogeochemical parameters collected by autonomous profiling floats across global oceans.[1] [2] [3] [4] [5]

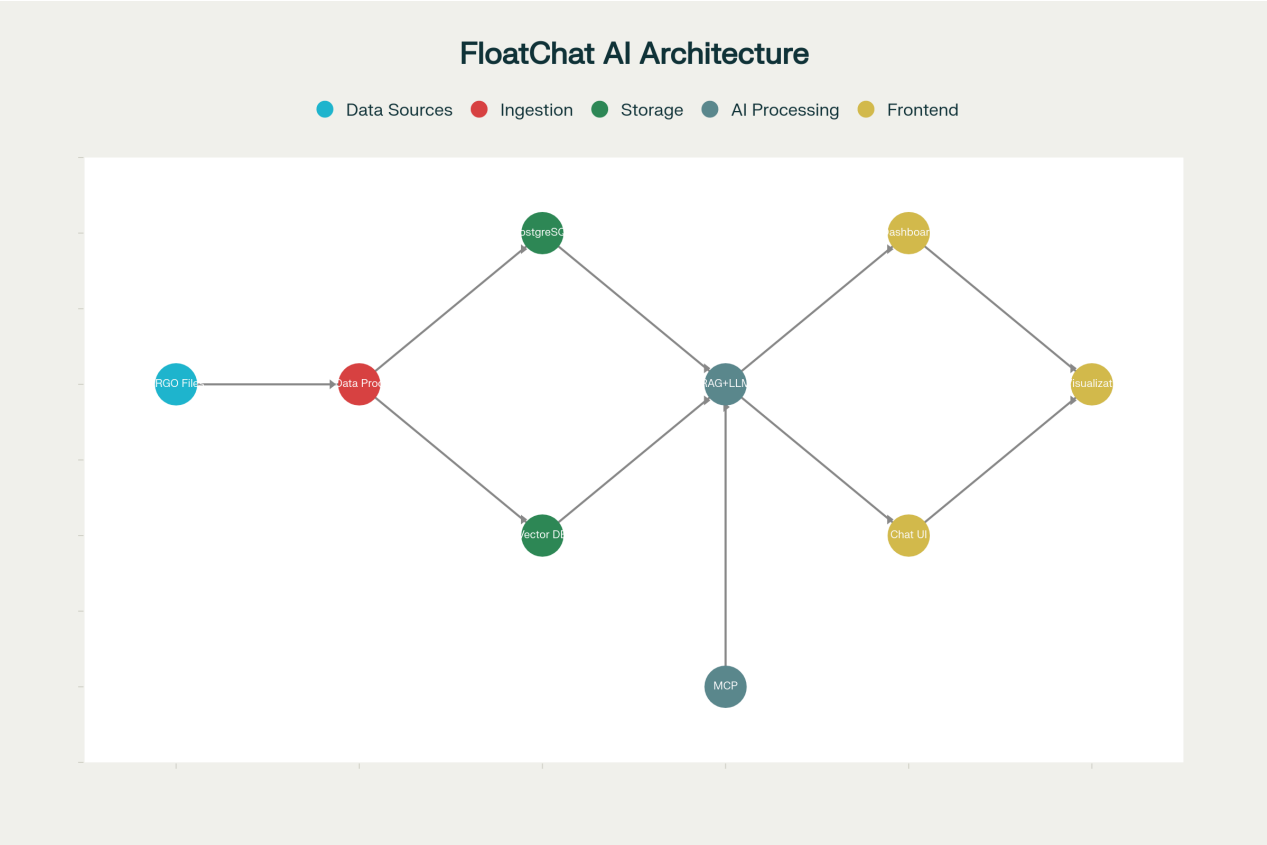

FloatChat System Architecture - AI-Powered Conversational Interface for ARGO Ocean Data

The data ingestion layer utilizes Python-based tools including netCDF4, pandas, and xarray libraries to parse and process the complex multi-dimensional NetCDF format. This processed data flows into a dual storage architecture: structured data in PostgreSQL databases for efficient querying, and metadata summaries stored in vector databases like FAISS or Chroma for semantic search capabilities.[6] [7] [8] [9] [10]

Retrieval-Augmented Generation Pipeline

The heart of FloatChat lies in its sophisticated RAG implementation, which bridges the gap between raw oceanographic data and meaningful insights. The system leverages vector databases to store contextual embeddings of float metadata, measurement summaries, and domain-specific oceanographic knowledge. When users submit natural language queries, the system performs parallel searches across both structured SQL databases and vector stores to retrieve relevant context.[4] [8] [11] [9] [12]

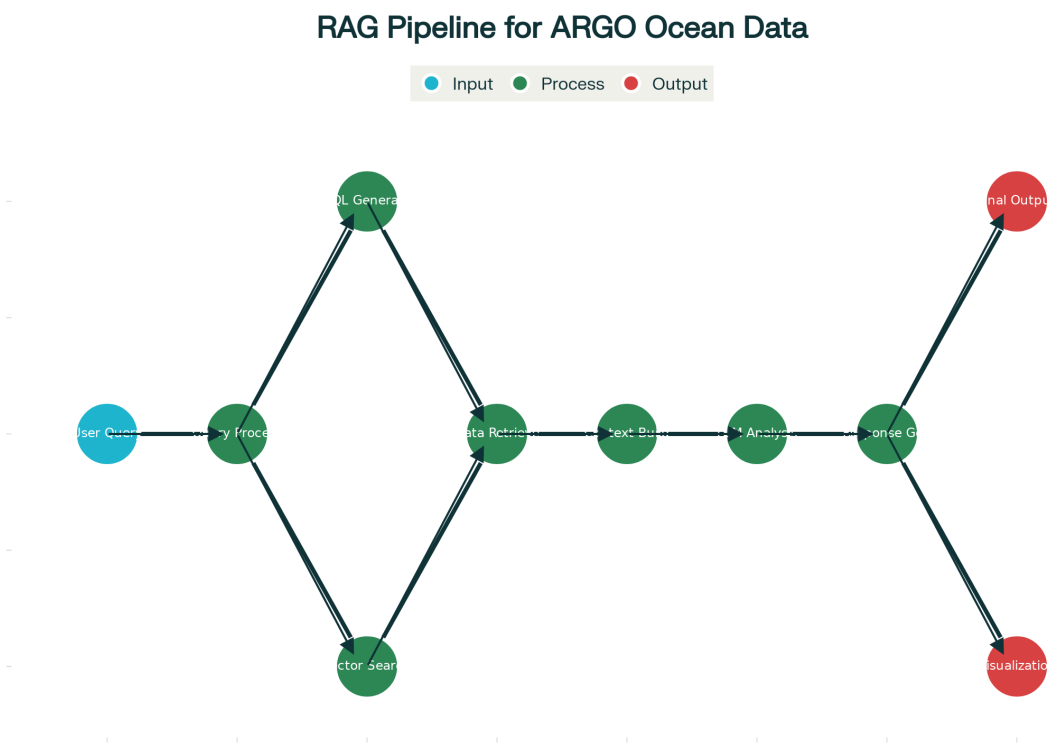

RAG Pipeline for ARGO Oceanographic Data - From Query to Visualization

The RAG pipeline demonstrates particular strength in handling complex oceanographic queries by combining multiple data sources and temporal patterns. For instance, when a user requests "salinity profiles near the equator in March 2023," the system intelligently maps this to appropriate database queries while retrieving contextual information about equatorial ocean dynamics and seasonal patterns.[11] [13] [14] [15]

Model Context Protocol Integration

A critical innovation in FloatChat is the integration of Model Context Protocol (MCP), which provides standardized communication between LLMs and external data sources. This protocol enables real-time access to current oceanographic data, ensuring responses reflect the most recent observations rather than static training data. MCP's standardized approach eliminates the need for custom integrations with each new data source, significantly improving system scalability and maintainability.[5] [16] [17] [18] [19] [20]

Data Processing and Management

NetCDF to SQL Conversion Strategies

Converting NetCDF files to SQL-compatible formats presents unique challenges due to the multi-dimensional nature of oceanographic data. Effective strategies involve flattening the hierarchical NetCDF structure into relational tables while preserving critical metadata and dimensional relationships. Python scripts utilizing netCDF4 and pandas can extract profile data, creating normalized tables for float trajectories, measurements, and quality control flags.[21] [22] [23]

The conversion process requires careful consideration of data types, null value handling, and indexing strategies for optimal query performance. PostGIS extensions prove particularly valuable for spatial queries, enabling efficient geographic filtering of float profiles based on latitude, longitude, and temporal constraints.[22] [24]

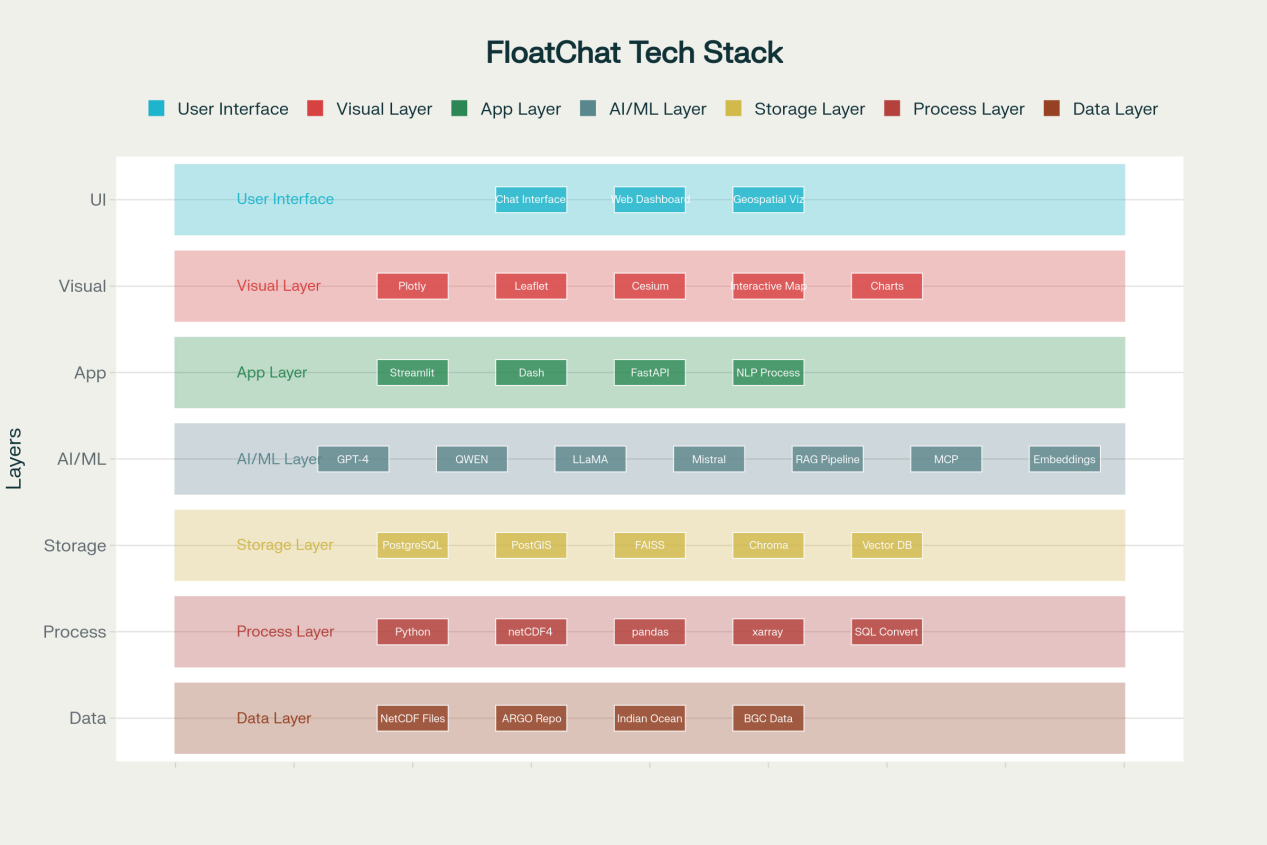

FloatChat Technology Stack - Layered Architecture with Specific Technologies

Biogeochemical Data Integration

BGC-Argo floats provide additional complexity through measurements of oxygen, chlorophyll, nitrate, pH, and other biogeochemical parameters. These sensors generate multi-variate time series requiring sophisticated data harmonization and quality control procedures. The system must handle varying sensor configurations across different float models and manufacturers, implementing flexible schema designs that accommodate diverse parameter sets.[25] [26] [27] [28] [29]

Machine learning techniques enhance BGC data utility by generating synthetic profiles for unmeasured parameters using algorithms like CANYON-B, which estimates nutrients and carbonate system variables from core measurements. This approach significantly expands the queryable parameter space available through the conversational interface.[26] [27] [30]

User Interface and Visualization Components

Interactive Dashboard Development

The frontend leverages Streamlit or Dash frameworks to create responsive, interactive dashboards that seamlessly integrate with the AI backend. These frameworks excel at rapid prototyping and deployment while providing sophisticated visualization capabilities through integration with Plotly, Leaflet, and Cesium libraries.[31] [32] [33] [34] [35] [36]

Streamlit particularly shines in scientific applications due to its simplified deployment model and built-in caching mechanisms that optimize performance for large datasets. The framework's native support for real-time updates ensures that visualizations remain synchronized with underlying data as users interact with the conversational interface.[33] [37]

Geospatial Visualization Strategies

Ocean data visualization requires specialized approaches due to the three-dimensional nature of oceanographic measurements and their temporal evolution. Plotly provides excellent support for interactive 3D plotting, enabling users to explore depth profiles interactively while maintaining context of geographic location and temporal trends.[34] [35] [36] [38]

Leaflet integration offers lightweight, mobile-friendly mapping capabilities essential for field researchers accessing data on various devices. For advanced 3D visualization needs, Cesium provides WebGL-powered rendering of complex oceanographic phenomena, including trajectory visualization and multi-parameter correlation displays.[39] [34]

Implementation Challenges and Solutions

Scalability and Performance Optimization

Processing millions of ARGO profiles requires careful attention to database design and query optimization. Indexing strategies must balance query performance with storage efficiency, particularly for temporal and spatial queries that form the backbone of most oceanographic analyses. Partitioning tables by date ranges and implementing spatial indices significantly improve query response times for large datasets.[40] [2] [22] [23]

Vector database performance becomes critical as the system scales, with FAISS demonstrating superior performance for large-scale similarity searches while Chroma offers better ease-of-use for smaller deployments. The choice between these systems depends on expected query volumes and the complexity of embedding operations.[8] [9] [41] [10] [42]

Data Quality and Validation

ARGO data quality control involves sophisticated algorithms that detect sensor drift, pressure offsets, and other systematic errors. The FloatChat system must incorporate these quality indicators into its retrieval mechanisms, ensuring that users receive appropriately flagged data with clear uncertainty estimates. Real-time quality control procedures identify suspicious profiles immediately, while delayed-mode processing provides more thorough validation after extended analysis.[43] [44] [3] [7]

Automated quality assessment using machine learning techniques can enhance traditional approaches by detecting subtle patterns indicative of sensor problems or environmental anomalies. These techniques prove particularly valuable for BGC sensors, which exhibit more complex failure modes than traditional CTD measurements.[45] [26] [29]

Regional Implementation: Indian Ocean Focus

INCOIS Infrastructure and Capabilities

The Indian National Centre for Ocean Information Services (INCOIS) provides substantial infrastructure for Indian Ocean ARGO operations, including real-time data processing, quality control, and distribution systems. INCOIS has deployed 542 ARGO floats in the Indian Ocean, with 75 currently active and transmitting data. Their Web-GIS platform and ERDDAP servers offer excellent foundation infrastructure for the FloatChat system.[25] [46] [47] [48]

The organization's existing data management workflows, including automated quality control and GDAC submission processes, provide proven operational frameworks that can be extended to support conversational AI applications. Their experience with both core and BGC float data management offers valuable insights for system design and implementation.[46] [49] [50] [25]

BGC-Argo Expansion Opportunities

Recent deployments of BGC floats in the Indian Ocean create exciting opportunities for enhanced conversational capabilities around biogeochemical processes. These floats provide unprecedented insights into oxygen depletion, ocean acidification, and primary productivity patterns that are critical for understanding climate change impacts on marine ecosystems.[25] [26] [46] [28] [51]

The expansion of BGC capabilities enables more sophisticated queries about ecosystem health, carbon cycling, and marine food web dynamics. FloatChat can leverage this rich parameter space to support complex environmental assessments and policy decision-making processes.[30] [29] [51]

Advanced Features and Future Extensions

Machine Learning Integration

Beyond basic RAG capabilities, FloatChat can incorporate specialized oceanographic machine learning models for anomaly detection, pattern recognition, and predictive modeling. These models can identify emerging phenomena like marine heatwaves, oxygen minimum zone expansion, or unusual biogeochemical events that warrant immediate attention.[45] [52] [26] [51]

Ensemble approaches combining multiple model outputs can provide uncertainty quantification for predictions, giving users better understanding of confidence levels in AI-generated insights. This approach proves particularly valuable for operational applications where decision-makers need clear risk assessments.[13] [15]

Multi-Modal Data Integration

Future system expansions can incorporate satellite observations, ship-based measurements, and coastal monitoring data to provide comprehensive ocean state assessments. This multi-modal approach enhances the contextual richness available to the RAG pipeline, enabling more nuanced and comprehensive responses to user queries.[11] [53] [54] [14]

Integration with weather and climate models can provide additional context for observed patterns, helping users understand the broader environmental context of local observations. This capability proves essential for climate research applications and long-term trend analysis.[55] [56]

Operational Deployment Considerations

System Maintenance and Updates

Operational deployment requires robust procedures for data ingestion, quality control, and system updates. Automated monitoring systems must track data latency, processing errors, and user feedback to ensure consistent performance. Regular model updates and retraining procedures maintain accuracy as new data becomes available and user patterns evolve.[5] [16] [17] [18]

Version control and rollback capabilities ensure system stability during updates, while comprehensive logging enables rapid troubleshooting of issues. API documentation and developer tools support system extensions and integration with external applications.[17] [19]

Security and Access Control

Ocean data systems require careful attention to access control and data security, particularly when serving both public and restricted datasets. The MCP framework provides robust authentication mechanisms that can be integrated with institutional identity management systems. Role-based access controls ensure appropriate data visibility while maintaining audit trails for sensitive operations.[16] [17] [18] [20]

Economic and Scientific Impact

Research Productivity Enhancement

FloatChat dramatically reduces the technical barriers to accessing oceanographic data, enabling researchers to focus on scientific questions rather than data management challenges. This democratization of data access can accelerate scientific discovery and broaden participation in oceanographic research.[57] [2] [58] [52] [54]

The conversational interface enables rapid hypothesis generation and testing, allowing researchers to explore datasets interactively rather than through pre-defined analysis scripts. This flexibility proves particularly valuable for exploratory research and educational applications.[55] [56]

Operational Oceanography Applications

Real-time access to ARGO data through conversational interfaces supports operational forecasting, maritime safety, and environmental monitoring applications. Coast guards, shipping companies, and fisheries management organizations can quickly assess current conditions without specialized oceanographic expertise.[59] [60] [53]

Climate monitoring applications benefit from the system's ability to rapidly synthesize long-term trends and compare current conditions with historical baselines. This capability supports both scientific assessment and public communication of climate change impacts.[61] [54] [55]

Conclusion

The FloatChat project represents a paradigm shift in oceanographic data accessibility, leveraging cutting-edge AI technologies to bridge the gap between raw data and actionable insights. By combining robust data management, sophisticated AI processing, and intuitive user interfaces, the system democratizes access to critical ocean observations while maintaining scientific rigor and data quality standards.[45] [52] [12] [61] [5] [18]

The technical architecture demonstrates careful attention to scalability, performance, and user experience considerations essential for operational deployment. Integration with existing infrastructure, particularly INCOIS capabilities and international ARGO frameworks, provides a solid foundation for successful implementation. The system's potential for enhancing research productivity, supporting operational applications, and advancing ocean literacy makes it a compelling investment in our collective understanding of ocean systems and their role in global climate.[55] [56] [16] [17] [19] [25] [46] [51]

Future developments in machine learning, multi-modal data integration, and conversational AI will continue to enhance the system's capabilities, making FloatChat an increasingly powerful tool for ocean science and stewardship. The project's open architecture and standards-based approach ensure extensibility and long-term sustainability, positioning it as a foundational platform for next-generation ocean data applications.[52] [54] [5] [17] [20] [45]

⁂

1. https://www.ncei.noaa.gov/products/global-argo-data-repository
2. https://climatedataguide.ucar.edu/climate-data/argo-ocean-temperature-and-salinity-profiles
3. https://www.ukargo.net/data/data_format/
4. https://aws.amazon.com/what-is/retrieval-augmented-generation/
5. https://cloud.google.com/discover/what-is-model-context-protocol
6. https://euroargodev.github.io/argoonlineschool/Lessons/L03_UsingArgoData/Chapter31_TheNetCDFFormat.html
7. https://www.ukargo.net/data/data_format/file_format/
8. https://unitechsp.tugab.bg/images/2024/4-CST/s4_p72_v3.pdf
9. https://www.capellasolutions.com/blog/faiss-vs-chroma-lets-settle-the-vector-database-debate
10. https://risingwave.com/blog/chroma-db-vs-pinecone-vs-faiss-vector-database-showdown/

11. https://chemrxiv.org/engage/chemrxiv/article-details/67e277f06dde43c9081f4b38
12. https://www.ibm.com/think/topics/retrieval-augmented-generation
13. https://www.nature.com/articles/s41598-025-00724-w
14. https://arxiv.org/pdf/2312.10997.pdf
15. https://www.sciencedirect.com/science/article/pii/S147403462400658X
16. https://www.descope.com/learn/post/mcp
17. https://modelcontextprotocol.io/specification/2025-03-26
18. https://www.cloudflare.com/learning/ai/what-is-model-context-protocol-mcp/
19. https://github.com/modelcontextprotocol
20. https://www.anthropic.com/news/model-context-protocol
21. https://ai2sql.io/learn/netcdf-to-sql-converter
22. https://robertwb.wordpress.com/2016/02/20/netcdf-data-and-postgis/
23. https://stackoverflow.com/questions/16016545/load-postgresql-database-with-data-from-a-netcdf-file
24. https://wiki.postgresql.org/wiki/Converting_from_other_Databases_to_PostgreSQL
25. https://argo.ucsd.edu/wp-content/uploads/sites/361/2024/03/India-NationalReport-AST25.pdf
26. https://bg.copernicus.org/articles/20/1405/2023/
27. https://biogeochemical-argo.org/bgc-data-products.php
28. https://www.sciencedirect.com/science/article/pii/S0967064525000530
29. https://agupubs.onlinelibrary.wiley.com/doi/full/10.1029/2022GB007624
30. https://biogeochemical-argo.org
31. https://python.plainenglish.io/building-a-cyclone-risk-analysis-dashboard-with-streamlit-330452e3c986
32. https://www.topcoder.com/thrive/articles/data-visualization-with-streamlit-part-i
33. https://blog.streamlit.io/crafting-a-dashboard-app-in-python-using-streamlit/
34. https://towardsdatascience.com/creating-geospatial-heatmaps-with-pythons-plotly-and-folium-libraries-4159e98a1ae8/
35. https://www.youtube.com/watch?v=vSGWmZre31A
36. https://www.youtube.com/watch?v=z7bDlZjOaME
37. https://www.youtube.com/watch?v=_XI_RQB69bA
38. https://plotly.com/python/maps/
39. https://cesium.com
40. http://apdrc.soest.hawaii.edu/projects/Argo/data/Documentation/gridded-var.pdf
41. https://dev.to/josmel/vector-search-in-practice-using-embeddings-with-faiss-and-chroma-1ac4
42. https://research.aimultiple.com/open-source-vector-databases/
43. https://argo.ucsd.edu/organization/argo-data-system/
44. https://odis.incois.gov.in/documents/ResearchPapers/RP683.pdf
45. https://arxiv.org/html/2310.02031v6
46. https://argo.ucsd.edu/wp-content/uploads/sites/361/2024/10/ADMT25_NationalReport_INDIA.pdf
47. https://services.incois.gov.in/documents/TechnicalReports/INCOIS-DMG-TR-2011-01.pdf

48. https://services.incois.gov.in/argo/ADV.jsp
49. https://services.incois.gov.in/argo/argoData.jsp
50. https://incois.gov.in/argo/argoDataNational.jsp
51. https://www.nature.com/articles/s43017-022-00341-5
52. https://arxiv.org/html/2502.02863v1
53. https://www.sciencedirect.com/science/article/pii/S3050520825000302
54. https://ijsret.com/2025/05/15/ai-in-marine-conservation-monitoring-oceans-with-machine-learning-and-remote-sensing/
55. https://www.nature.com/articles/s41612-025-01070-4
56. https://agupubs.onlinelibrary.wiley.com/doi/full/10.1029/2025JH000649
57. https://cran.r-project.org/web/packages/argoFloats/vignettes/argoFloats.html
58. https://argo.ucsd.edu/data/
59. https://www.aoml.noaa.gov/argo/
60. https://imos.org.au/facility/argo-floats
61. https://cloud.google.com/use-cases/retrieval-augmented-generation
62. https://en.wikipedia.org/wiki/Argo_(oceanography)
63. https://www2.whoi.edu/site/argo/operations/
64. https://euroargodev.github.io/argoonlineschool/Lessons/L02_TheArgoData/Chapter20_TheArgoData_intro.html
65. https://argo.ucsd.edu/data/data-visualizations/
66. https://argo.ucsd.edu/data/data-from-gdacs/
67. https://euroargodev.github.io/argoonlineschool/Lessons/L02_TheArgoData/Chapter22_WhatArgoDataFormat.html
68. https://podaac.jpl.nasa.gov/dataset/SPURS1_ARGO
69. https://meop.net/database/data-format.html
70. https://www.instaclustr.com/education/vector-database/top-10-open-source-vector-databases/
71. https://futurewebai.com/blogs/vector-databases
72. https://discuss.streamlit.io/t/visualizing-rising-sea-level-a-global-scale-map-application-to-raise-awareness-for-climate-change-impact/60017
73. https://en.oceanbase.com/docs/community-oms-en-10000000002346529
74. https://discuss.streamlit.io/t/geospatial-lightning-atmospheric-dashboard/62208
75. https://docs.digitalocean.com/products/databases/postgresql/
76. https://modelcontextprotocol.io
77. https://sunscrapers.com/blog/data-viz-streamlit-dash-panel-part-1/
78. https://plotly.com/examples/geospatial/
79. https://www.kaggle.com/code/ifeanyichukwunwobodo/geospatial-analysis-using-folium-and-plotly
80. https://incois.gov.in/argo/AFIndian.jsp